

Current Conditions

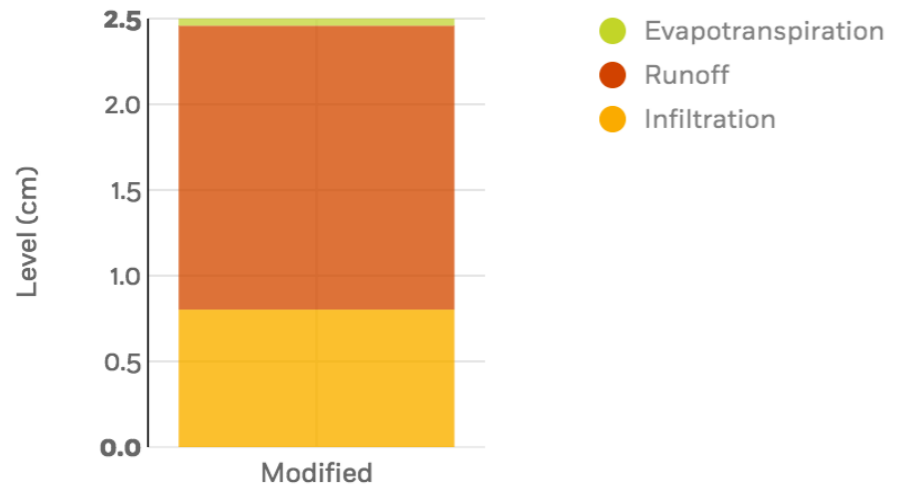
Download GMS

Precipitation 2.50 cm + Add changes to this area

Runoff Water Quality

24-hour hypothetical storm event

Simulated by SLAMM and TR-55 model algorithms.



Type	Water Depth (cm)	Water Volume (m <sup>2</sup> )
Runoff	1.656	16,590.45
Evapotranspiration	0.041	413.85
Infiltration	0.802	8,036.02

**Layers**

Coverage

- National Land Cover Database
- Hydrologic Soil Groups
- PA Urbanized Areas

Map navigation controls: pan, location, zoom out, zoom in.

Current Conditions

Download GMS

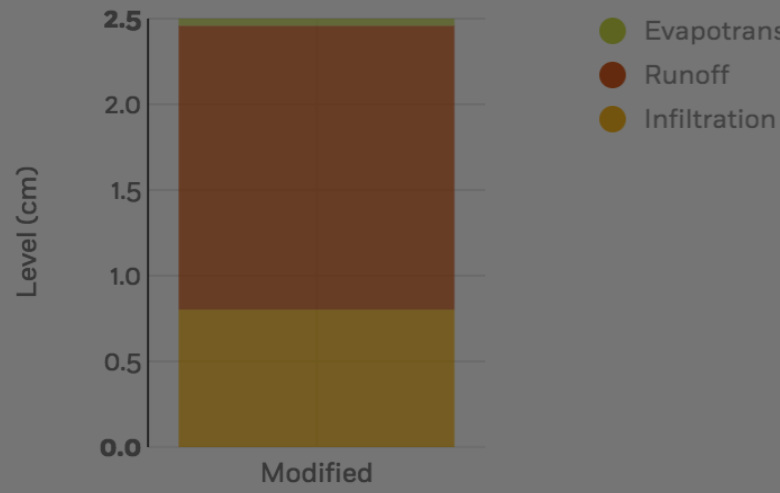
Precipitation 2.50 cm

Add changes to this area

Runoff Water Quality

24-hour hypothetical storm event

Simulated by SLAMM and TR-55 model algorithms



Type	Water Depth (cm)	Water Volume
Runoff	1.656	
Evapotranspiration	0.041	413.85
Infiltration	0.802	8,036.02

Share your project

Enable shareable link

https://app.wikiwatershed.org/project/21025

Publish on Hydroshare


HydroShare is an online collaboration environment for sharing data, models, and code.

Done

**Layers**

Coverage

- National Land Cover Database
- Hydrologic Soil Groups
- PA Urbanized Areas



Current Conditions

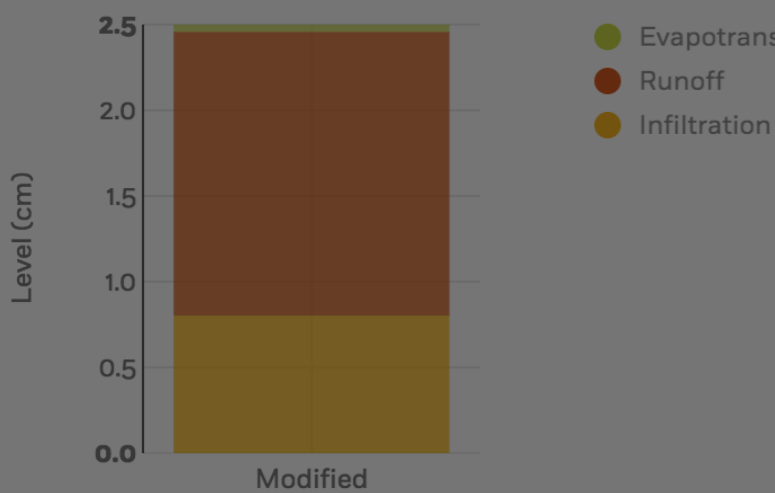
Download GMS

Precipitation 2.50 cm + Add changes to this area

Runoff Water Quality

24-hour hypothetical storm event

Simulated by SLAMM and TR-55 model algorithms



Type	Water Depth (cm)	Water Volume
Runoff	1.656	
Evapotranspiration	0.041	413.85
Infiltration	0.802	8,036.02

# Share your project

Enable shareable link  On

<https://app.wikiwatershed.org/project/21025>

Publish on Hydroshare  Off


HydroShare is an online collaboration environment for sharing data, models, and code.

Done

**Layers**

Coverage

- National Land Cover Database
- Hydrologic Soil Groups
- PA Urbanized Areas



Current Conditions

Download GMS

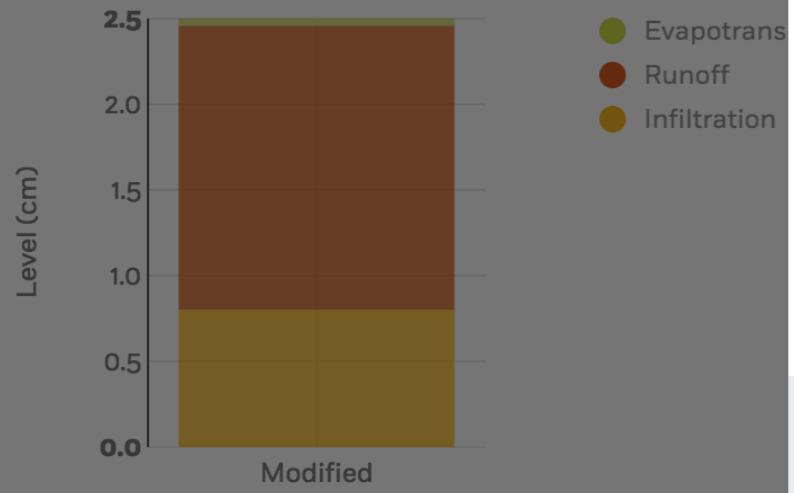
Precipitation 2.50 cm

Add changes to this area

Runoff Water Quality

24-hour hypothetical storm event

Simulated by SLAMM and TR-55 model algorithms



## Publish on Hydroshare

You will need to connect your Hydroshare account to your Model My Watershed account. Or create a new Hydroshare account.

Lorem ipsum dolor sit amet, consectetur adipiscing elit. Duis elementum lacinia ex et semper. Duis vel tincidunt tortor. Fusce id odio lorem.

Cancel
Connect

Type	Water Depth (cm)	Water Volume (m <sup>2</sup> )
Runoff	1.656	16,590.45
Evapotranspiration	0.041	413.85
Infiltration	0.802	8,036.02

**Layers** [dropdown arrow]

Coverage [slider]

- National Land Cover Database
- Hydrologic Soil Groups
- PA Urbanized Areas

🌊
📊
🏠
📄

↗️
📍
-
+



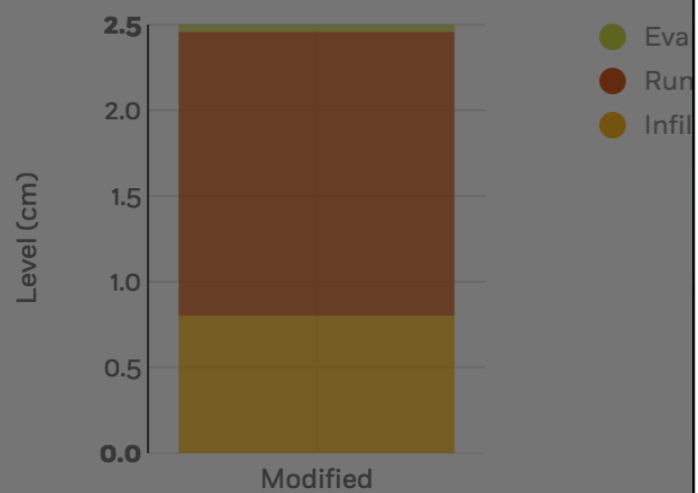
Current Conditions

Download GM

Runoff Water Quality

24-hour hypothetical storm event


Simulated by SLAMM and TR-55 model algo



Type	Water Depth (cm)
Runoff	1.656
Evapotranspiration	0.041
Infiltration	0.802

My account

Secure | <https://account.health.nokia.com/connectionuser/ac...>



## My account

[Don't have an account yet?](#)

Email address

Password

[Forgot your password?](#)





[Sign in](#)





2.50 cm + Add changes to this area

**Layers** ▼

**Coverage** ▬●▬

- National Land Cover Database
- Hydrologic Soil Groups
- PA Urbanized Areas

Current Conditions

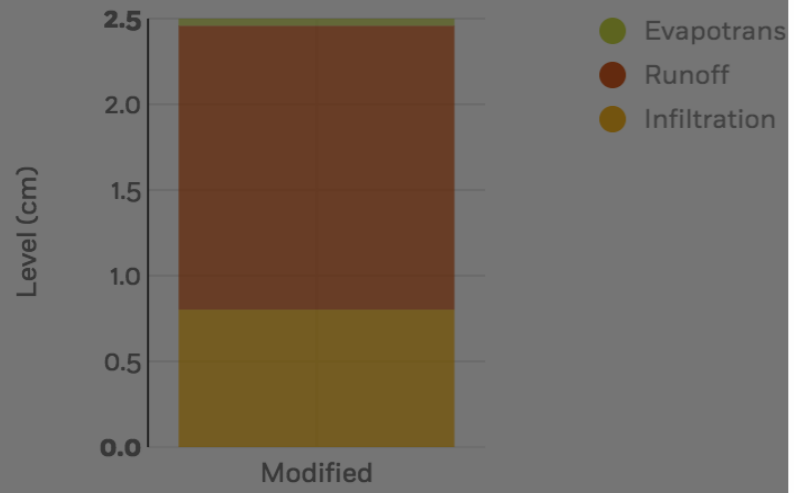
Download GMS

2.50 cm + Add changes to this area

Runoff Water Quality

24-hour hypothetical storm event

Simulated by SLAMM and TR-55 model algorithms



Type	Water Depth (cm)	Water Volume
Runoff	1.656	
Evapotranspiration	0.041	
Infiltration	0.802	

## Publish on Hydroshare

To publish this project on Hydroshare, please confirm the title and write an abstract.

**Title**

**Abstract**

Cancel
Publish

**Layers** ▼

**Coverage** ▬●▬

- National Land Cover Database
- Hydrologic Soil Groups
- PA Urbanized Areas

🌊
📊
🏠
📄

↗
📍
-
+

Current Conditions

Download GMS

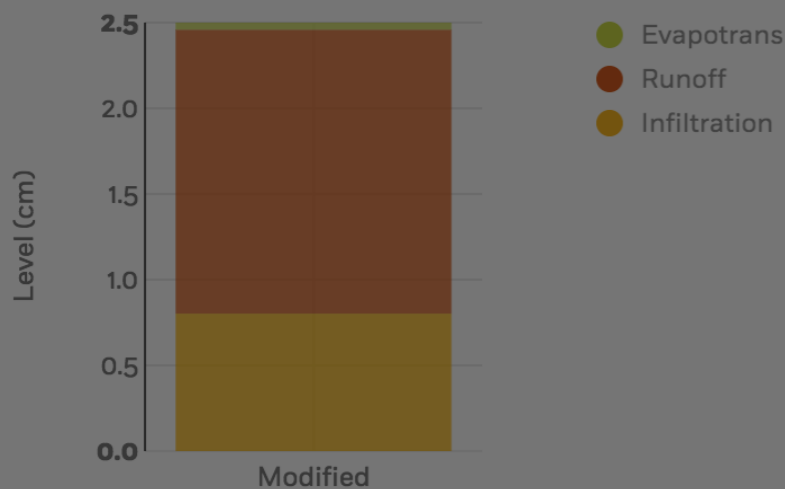
Precipitation 2.50 cm

Add changes to this area

Runoff Water Quality

24-hour hypothetical storm event

Simulated by SLAMM and TR-55 model algorithms



Type	Water Depth (cm)	Water V
Runoff	1.656	
Evapotranspiration	0.041	
Infiltration	0.802	

# Share your project

Enable shareable link

Off

<https://app.wikiwatershed.org/project/21025>



Publish on Hydroshare

On

Your project [Rainwater Stormrunoff](#) has been published on Hydroshare.

### Settings

Automatically push changes to Hydroshare


Last change: 2/5/2017, 14:25:02

Done

### Layers

#### Coverage

- National Land Cover Database
- Hydrologic Soil Groups
- PA Urbanized Areas



Current Conditions

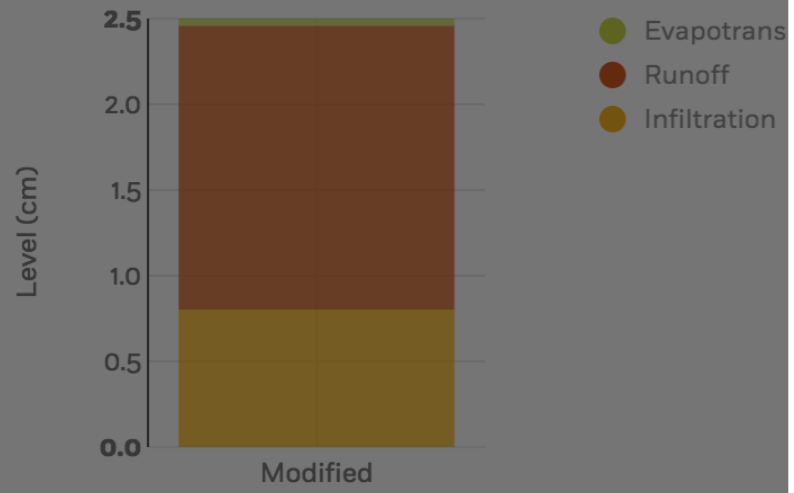
Download GMS

Precipitation 2.50 cm Add changes to this area

Runoff Water Quality

24-hour hypothetical storm event

Simulated by SLAMM and TR-55 model algorithms



Type	Water Depth (cm)	Water V
Runoff	1.656	
Evapotranspiration	0.041	
Infiltration	0.802	

## Share your project

**Enable shareable link**  Off

<https://app.wikiwatershed.org/project/21025>

---

**Publish on Hydroshare**  On

Your project [Rainwater Stormrunoff](#) has been published on Hydroshare.

**Settings**

Automatically push changes to Hydroshare

Last change: 2/5/2017, 14:25:02 | [Publish now](#)

[Done](#)

**Layers**

**Coverage**

- National Land Cover Database
- Hydrologic Soil Groups
- PA Urbanized Areas

Current Conditions

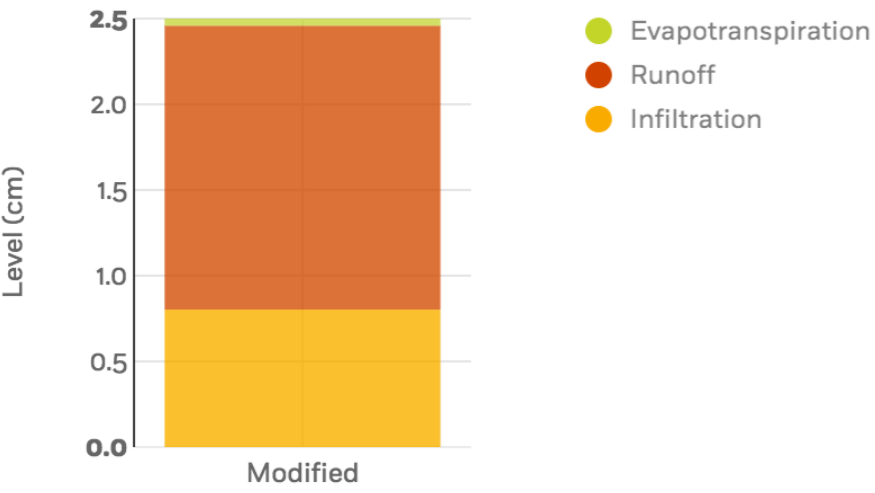
Download GMS

Precipitation 2.50 cm + Add changes to this area

Runoff Water Quality

24-hour hypothetical storm event

Simulated by SLAMM and TR-55 model algorithms.



Type	Water Depth (cm)	Water Volume (m <sup>2</sup> )
Runoff	1.656	16,590.45
Evapotranspiration	0.041	413.85
Infiltration	0.802	8,036.02

**Layers**

Coverage

- National Land Cover Database
- Hydrologic Soil Groups
- PA Urbanized Areas

Map navigation controls: pan, location, zoom out, zoom in.

Current Conditions

Download GMS

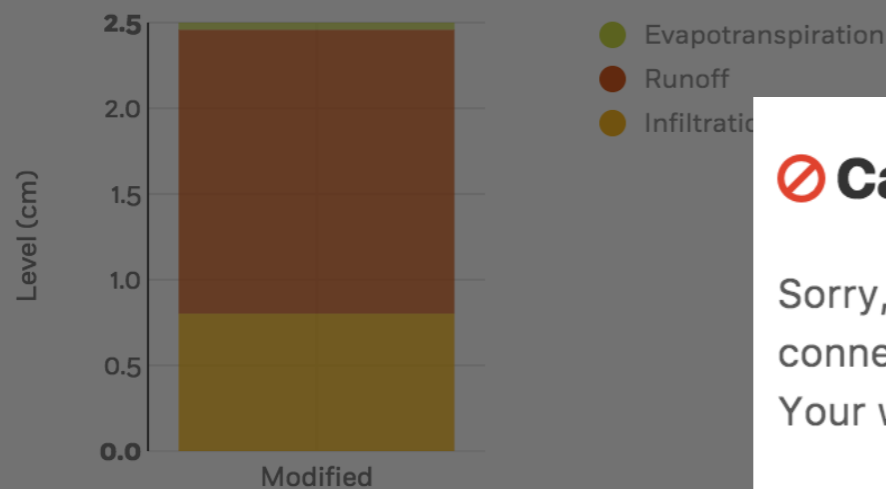
Precipitation 2.50 cm

Add changes to this area

Runoff Water Quality

24-hour hypothetical storm event

Simulated by SLAMM and TR-55 model algorithms.



Can't connect to Hydroshare

Sorry, there seems to be some problem with connecting to Hydroshare. Please try again later. Your work has been saved to the MMW server.


Okay

Type	Water Depth (cm)	Water volume (m <sup>3</sup> )
Runoff	1.656	16,590.45
Evapotranspiration	0.041	413.85
Infiltration	0.802	8,036.02

Layers

Coverage


- National Land Cover Database
- Hydrologic Soil Groups
- PA Urbanized Areas





**Scenario 1** ▾

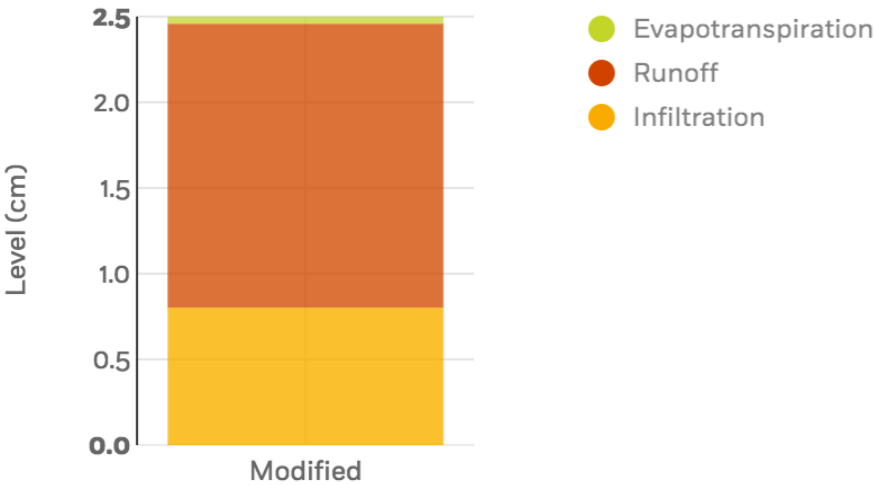
☰ Compare to ...

Precipitation  2.50 cm

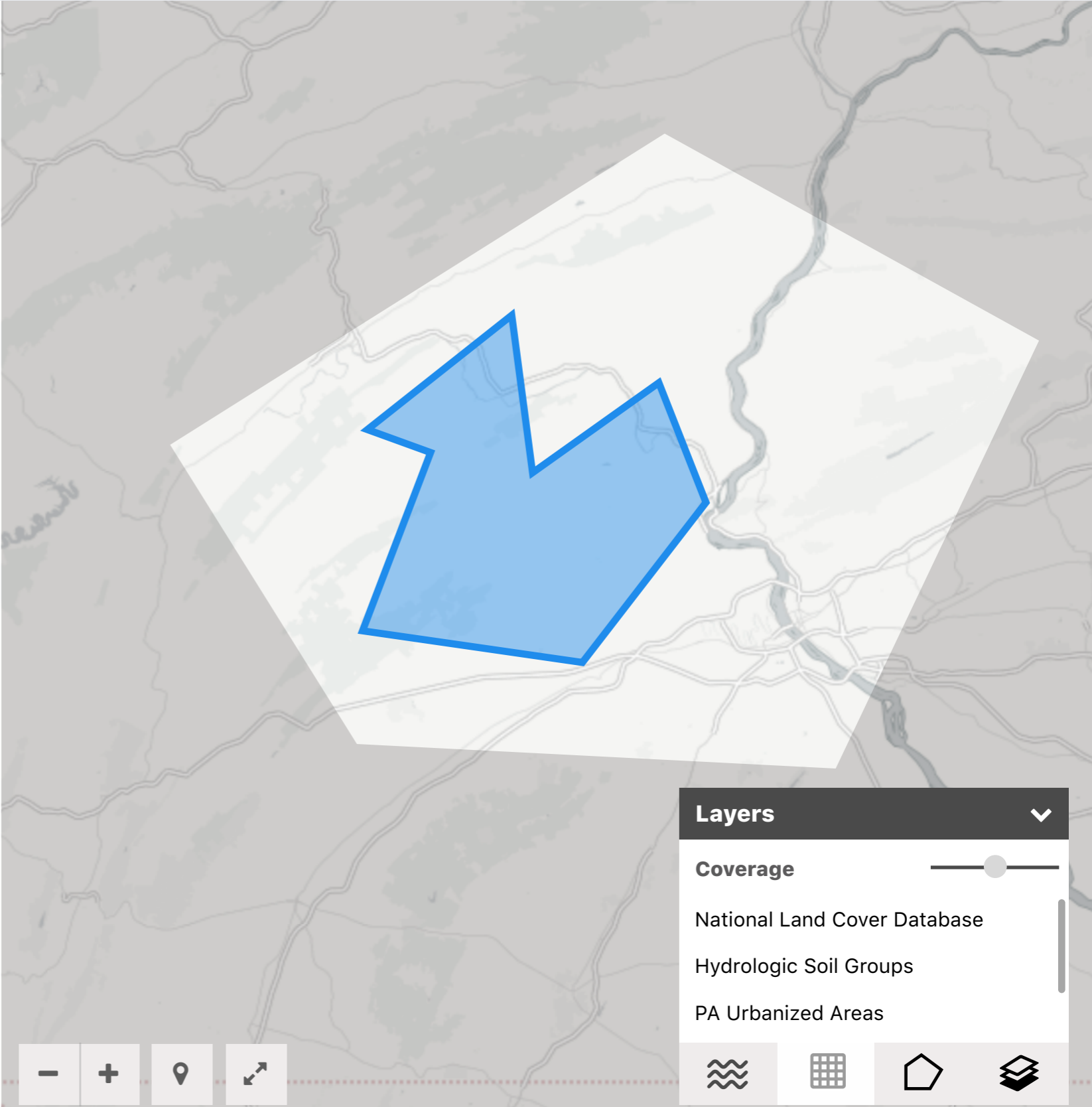
**Runoff** Water Quality

### 24-hour hypothetical storm event


Simulated by SLAMM and TR-55 model algorithms.







Type	Water Depth (cm)	Water Volume (m <sup>2</sup> )
Runoff	1.656	16,590.45
Evapotranspiration	0.041	413.85
Infiltration	0.802	8,036.02







**Layers** ▾

**Coverage** 

- National Land Cover Database
- Hydrologic Soil Groups
- PA Urbanized Areas

# Projects

[+ Create New Project](#)

## Untitled Project

1 Square Km

8/23/2017, 1:52:19 PM

[Rename](#)[Share](#)[Delete](#)[Launch Project](#)

## River park site

1 Square Km

8/23/2017, 12:38:55 PM

[Rename](#)[Share](#)[Delete](#)[Launch Project](#)

## Untitled Project

Selected Area

8/23/2017, 12:37:20 PM

[Rename](#)[Share](#)[Delete](#)[Launch Project](#)

## Untitled Project

1 Square Km

8/17/2017, 11:34:04 AM

[Rename](#)[Share](#)[Delete](#)[Launch Project](#)

## Untitled Project

1 Square Km

8/17/2017, 11:33:39 AM

[Rename](#)[Share](#)[Delete](#)[Launch Project](#)

# Projects

+ Create New Project

## Untitled Project

1 Square Km

8/23/2017, 1:52:19 PM

Delete

Launch Project

## River park site

1 Square Km

8/23/2017, 12:38:55 PM

Delete

Launch Project

## Untitled Project

Selected Area

8/23/2017, 12:37:20 PM

Delete

Launch Project

## Untitled Project

1 Square Km

8/17/2017, 11:34:04 AM

Rename

Share

Delete

Launch Project

## Untitled Project

1 Square Km

8/17/2017, 11:33:39 AM

Rename

Share

Delete

Launch Project

## Share your project

Enable shareable link



Publish on Hydroshare

HydroShare is an online collaboration environment for sharing data, models, and code.

Done